

All chapters
Share this book
Contents
Highlights
Chapter 1 Introduction
Image Content Enrichment
Live Performance
X-Ray Visualization
Home Remodeling
Information Filtering
Summary
Chapter 2 Interaction
Chapter 3 Modeling and Authoring
Chapter 4 Rendering
Chapter 5 Tracking
Chapter 6 Collaboration
Chapter 7 Software Architecture

Chapter 7. Situated Visualization

So [Chapter 6](#) we examined how computer graphics can be seamlessly embedded in real-world scenes, with the goal to create a [Mixed Reality \(MR\)](#) or [Augmented Reality \(AR\)](#) environment. Now we will look at a special case of MR/AR applications: those that are all or in part user-centered, providing information that is relevant to the user's surroundings and situation. We call this [Situated Visualization](#), and it is the focus of this chapter. This is done through the application of [Context-Aware Computing](#).

Visualization has its roots in the field of [Scientific Visualization](#), which is primarily concerned with the display of [Scientific Data](#), where data comes as abstract sets of numbers, typically obtained by measurement or computer simulation. Scientific visualization is discussed in more detail in [Chapter 12 of Volume 2](#).



Figure 7.1 Situated visualization describing points of presence for real data and a spectrum of situated visualization. (Courtesy of Raphael Grasset)



Figure 7.2 Augmenting an AR visualization of a dental temporomandibular joint disorder with a situated visualization. The AR visualization (left) is shown in a commercially significant use of AR (Dr. Dave's Interactive Dental Anatomy).

We start our investigation of situated visualization by considering the challenges that this type of visualization poses for [Augmented Reality](#) systems. In contrast to [Scientific Visualization](#), which is concerned with the display of abstract data, [Situated Visualization](#) is concerned with the display of [Situated Data](#), which is data that has a direct relationship to the user's surroundings. Such data is typically registered with the user's environment, for example, in the form of [Geospatial Data](#) that is registered with the user's location. Examples of [Situated Visualization](#) are shown in [Figure 7.2](#) and [Figure 7.3](#).



Figure 7.3 Augmenting an AR visualization of a dental temporomandibular joint disorder with a situated visualization. The AR visualization (left) is shown in a commercially significant use of AR (Dr. Dave's Interactive Dental Anatomy).

Challenges

Situated visualization faces the same challenges as traditional visualization, including the same [General Challenges](#) (data acquisition, [Data Analysis](#), [Data Management](#), [Data Representation](#), [Perception](#), [Interaction](#), [Evaluation](#)) and [Visualization Challenges](#) (visual mapping, [View Generation](#), [View Management](#), [Display](#)) discussed in [Chapter 1 of Volume 2](#). In addition, the embedding of situated visualizations into the real world creates [Registration Errors](#) and [Tracking Errors](#) that can cause misalignment and misregistration. Finally, [Augmented Reality](#) systems introduce [Display Challenges](#) that are unique to [Head-Worn Displays](#) and [Projection Displays](#).

Data Overload

Presenting a large amount of data in the AR space is limited by [Display Resolution](#), [Field of View](#), and [Occlusion](#). Even if the display is capable of showing a large amount of data, the user's cognitive capacity is limited. This is known as [Information Overload](#), which limits the situated presentation of data. Figure 7.4 shows [Display Overload](#) in [Video See-Through](#) AR. Overload can be alleviated by [Filtering](#) the data, for example, by [Data Selection](#). A [Context-Aware](#) system can be used to filter the data based on the user's situation. See [Section 12.1 of Volume 2](#) for a discussion of [Information Overload](#) and [Filtering](#).



Figure 7.4 Augmenting an AR visualization of a dental temporomandibular joint disorder with a situated visualization. The AR visualization (left) is shown in a commercially significant use of AR (Dr. Dave's Interactive Dental Anatomy).

Tool Overload

In contrast to hand-held [Handheld AR](#) devices, a user aspect of wearable augmented [Head-Worn Displays](#) is that they are [Hands-Free Displays](#). This is a key advantage for [Industrial AR](#) applications, but [Tool Overload](#) can limit the user's ability to perform [Manual Tasks](#).

- [Tool Overload](#) can limit task efficacy
- [Head-Worn and Hand-Held Displays](#) can be used together
- [Hands-on Metaphors](#) can help to ease and give details when needed

Since the [Hands-Free](#) use of [Head-Worn Displays](#) is of great benefit in [Craft and Trades Work](#), [Hands-On Metaphors](#) have been proposed to alleviate [Tool Overload](#). [Hands-On Metaphors](#) [Support](#) of [Hand-Held Displays](#) can be used to [Interact](#) with [Head-Worn Displays](#) so that they adapt users' gaming concepts [Hagbi et al., 2010] into the task.

Registration Errors

Situated visualizations have an additional requirement relative to conventional [Augmented Reality](#) applications: [Registration Errors](#) can be [Perceived](#) by the user. [Registration Errors](#) are [Visual Conflicts](#) between the representations of the real world and the virtual objects that augment it. [Registration Errors](#) are caused by [Misregistration](#) between the real and virtual scene. For example, [Optical See-Through](#) displays are [Prone](#) to [Misregistration](#) [Azuma, 1997] because of the [Latency](#) of the real world compared to the [Head-Mounted Display](#) [Figure 7.5].



Figure 7.5 [Optical See-Through](#) AR [Head-Mounted Display](#) with [Head-Worn Tracking](#) [Azuma, 1997] and [Head-Worn Projection](#) [Kijima and Ojika, 1997] [Kijima and Hirose, 1996] [Kijima and Ojika, 2002] [Kijima and Ojika, 2003] [Kijima and Ojika, 2004] [Kijima and Ojika, 2005] [Kijima and Ojika, 2006] [Kijima and Ojika, 2007] [Kijima and Ojika, 2008] [Kijima and Ojika, 2009] [Kijima and Ojika, 2010] [Kijima and Ojika, 2011] [Kijima and Ojika,

Ein Frau

Hotel 10th

Ein Frau

Ein Frau

Figure 1: Ein Frau Hotel 10th Ein Frau Ein Frau Ein Frau




Figure 7.19 The X-ray tunnel enables a user to look inside a building and gives hints about the distance of the uncovered geometry.

Mendez et al. [2006] describe the use of magic lenses for context-driven visualization in AR (Figure 7.20). The multipass rendering technique they discuss can render arbitrary sets of concave lenses. Moreover, these lenses can be associated with special effects (e.g., ghosting effects) that are dynamically applied based on properties of an object. The properties are supplied by the application as markup information attached to scene objects. This approach makes it very easy to combine certain types of magic lens effects and apply effects selectively. For example, an effect could remove certain unimportant objects from the scene, while important, but occluding, objects are rendered using a transparency effect.




Figure 7.20 A magic lens reveals the vessels inside a liver model. Courtesy of Erick Mendez and Denis Kalkofen.

Combined Knowledge-Based and Spatial Filter

The focus–nimbus technique proposed by Julier et al. [2002] represents a hybrid knowledge-based and spatial filtering strategy. These researchers argue that the level of detail of information provided for a specific object in the scene should consider both the importance of an object for the user's current task and the proximity to the user. Annotations for an object that is too unimportant or too far away are faded out. To compute this combined measure, the user's current task and position are used to define a focus region, and the attributes of every object define a nimbus region. Annotations for the objects are displayed to a degree that is determined by how much focus and nimbus intersect. Task-specific attributes influence the extent of focus and nimbus, such that an object that is highly relevant for the user will have a larger nimbus. Julier et al. describe the application of their technique in an urban warfare scenario (Figure 7.21).



Figure 7.21 (left) Unfiltered overlay of the available information produces a cluttered display. (right) By applying the focus–nimbus filter, the overlays are limited to information of high-enough relevance—in this case, the building outline and entrance. Courtesy of Simon Julier.

Any form of filtering, including the hybrid focus–nimbus approach, leads to the suppression of potentially relevant information. Ideally, less relevant information should be redacted rather than suppressed. In keeping with this aim, Tatzgern et al. [2016] proposes to aggregate related data points by clustering, rather than removing data with a filter. Clustering has the advantage over filtering that the complete information space is preserved. Some commercial AR browsers cluster data uniformly to control clutter, although this does not necessarily lead to a better overview and does not scale to large data sets. Tatzgern, however, proposes creating an information hierarchy by recursive clustering of annotations. This representation is conceptually similar to semantic level of detail. The clustering combines user-controlled spatial attributes (e.g., distance) with nonspatial attributes (e.g., semantic tags). The weighted sum of these attributes provides a ranking of the data's relevance for the user.

To avoid visual clutter, a display algorithm shows data that is relevant for the user in more detail, while adapting the overall amount of information shown to the available screen space. It does so by solving an incremental optimization problem, deciding which nodes in the hierarchy are selected for display. Users can interactively adjust priorities to drill down on data deemed relevant, and reveal all available details on demand (Figure 7.22).




Figure 7.22 Icons representing the location of books selected in a library. (top) Showing all books matching to a query at once leads to clutter. (bottom) Clustering the books by similarity and displaying only clusters for groups of books produces an easily comprehensible view. The user can click on the clusters to further unfold them. Courtesy of Markus Tatzgern and Denis Kalkofen.

Summary

Visualization determines how information should be shown. In AR, this primarily means determining which additional information should be shown, since the user is already perceiving all information present in the real world. Situated visualization is a principle of visualization for AR where information is attached to real-world objects. Annotation and labeling techniques are necessary for this kind of visualization, to avoid illegible layouts and cluttered displays. Another important principle for AR is the use of X-ray visualization to uncover hidden or otherwise imperceptible structures—for example, through the use of ghostings or explosion diagrams. Finally, information filtering techniques such as magic lenses are useful in delivering the right amount of task-dependent information to the user.